User Manual – API Catalog

India – WRIS API catalog is a valuable resource for exploring APIs for the datasets available with NWIC. It enables users to browse a comprehensive list of available APIs, helping developers easily identify endpoints, request and response formats, and supported operations. Additionally, the catalog provides documentation on API methods and response structures to facilitate seamless integration.

This manual offers a detailed guide to the API Catalog feature on India-WRIS.

It provides clear navigation instructions to integrate with NWIC published datasets via API Integration. The datasets can be integrated based on administrative divisions and basin hierarchy.

The API catalog is organized into two sections, enabling users to download the following datasets:

Administrative

1. Rainfall
2. River Water Level
3. Temperature
4. Relative Humidity
5. Wind Direction
6. Snowfall
7. Atmospheric Pressure
8. Solar Radiation
9. Observed Suspended Sediment

Disclaimer: *The water and allied data published by National Water Information Centre (NWIC) is sourced from various data producing agencies. Any further information and clarification regarding the data may be sought by the user from the respective data producing agency.*

10. Ground Water Level
11. River Water Discharge
12. Soil Moisture
13. Reservoir
14. Evapo-Transpiration

Basin

1. Rainfall
2. River Water Level
3. Temperature
4. Relative Humidity
5. Wind Direction
6. Snowfall
7. Atmospheric Pressure
8. Solar Radiation
9. Observed Suspended Sediment
10. River Water Discharge
11. Soil Moisture
12. Reservoir
13. Evapo-Transpiration

Disclaimer: *The water and allied data published by National Water Information Centre (NWIC) is sourced from various data producing agencies. Any further information and clarification regarding the data may be sought by the user from the respective data producing agency.*

Please follow the steps below to download datasets according to the administrative and basin hierarchy:

Step 1. Open updated browser and enter the URL https://indiawris.gov.in to access the home page of India-WRIS.

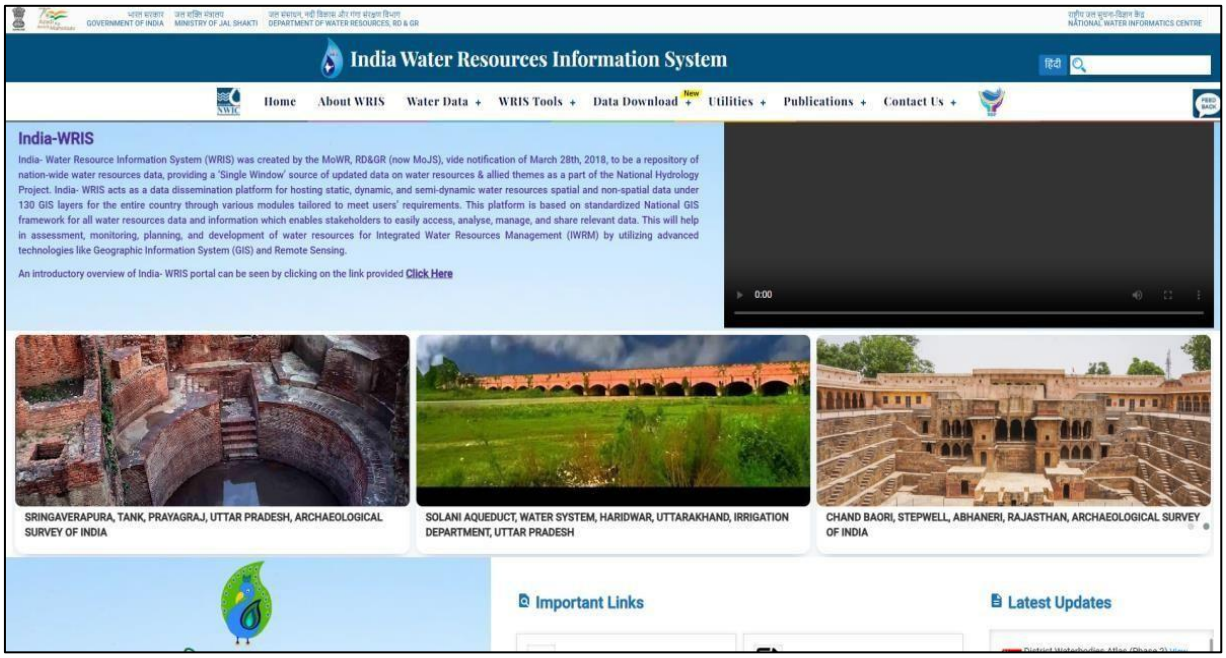

Disclaimer: *The water and allied data published by National Water Information Centre (NWIC) is sourced from various data producing agencies. Any further information and clarification regarding the data may be sought by the user from the respective data producing agency.*

Step 2. Navigate to the **'Data Download'** option located on the menu bar.

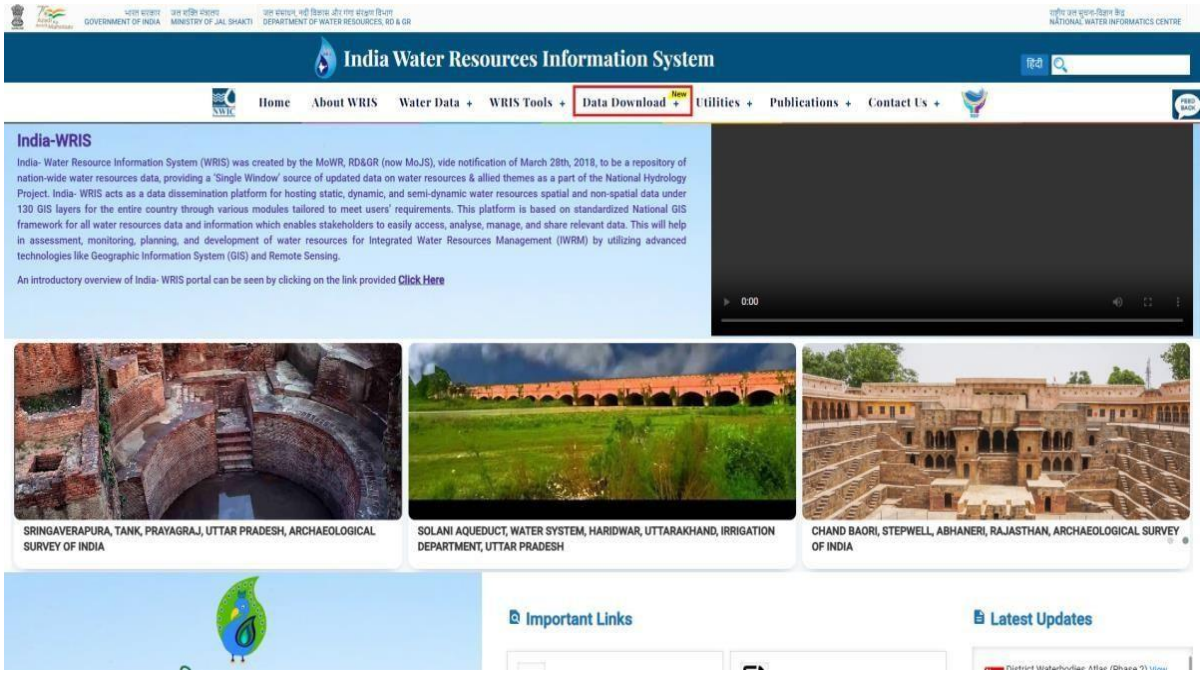

Disclaimer: *The water and allied data published by National Water Information Centre (NWIC) is sourced from various data producing agencies. Any further information and clarification regarding the data may be sought by the user from the respective data producing agency.*

Step 3. Select the **'API Catalog'** option from the 'Data Download' submenu to access the API Catalog page.

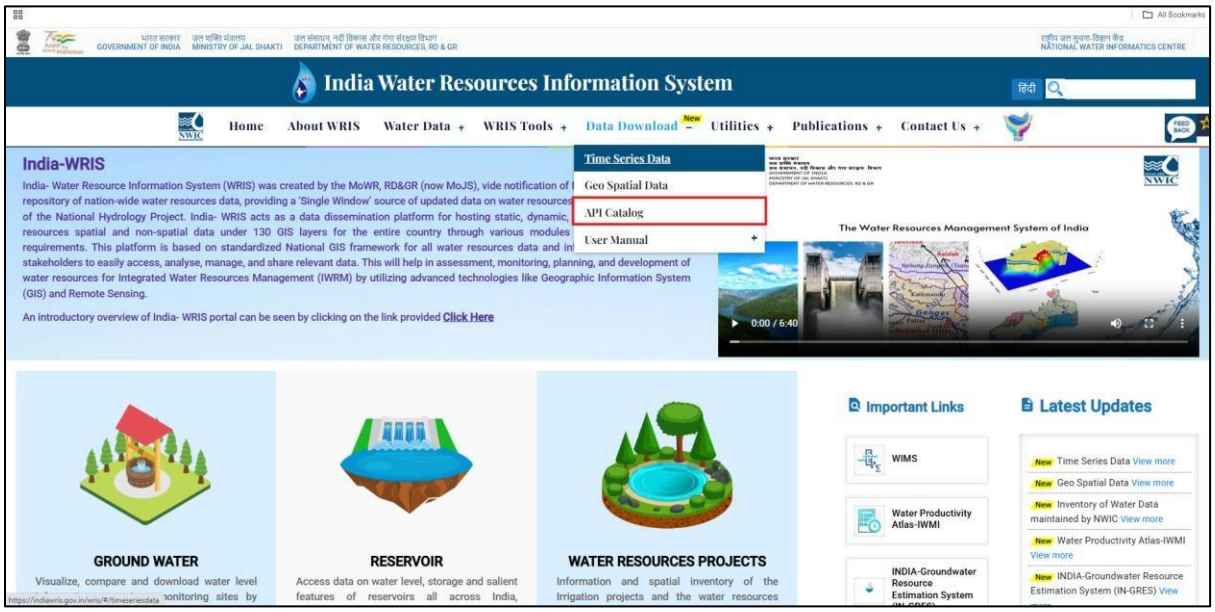

Disclaimer: *The water and allied data published by National Water Information Centre (NWIC) is sourced from various data producing agencies. Any further information and clarification regarding the data may be sought by the user from the respective data producing agency.*

Step 4. Now, user should be redirected to the 'API Catalog' page.

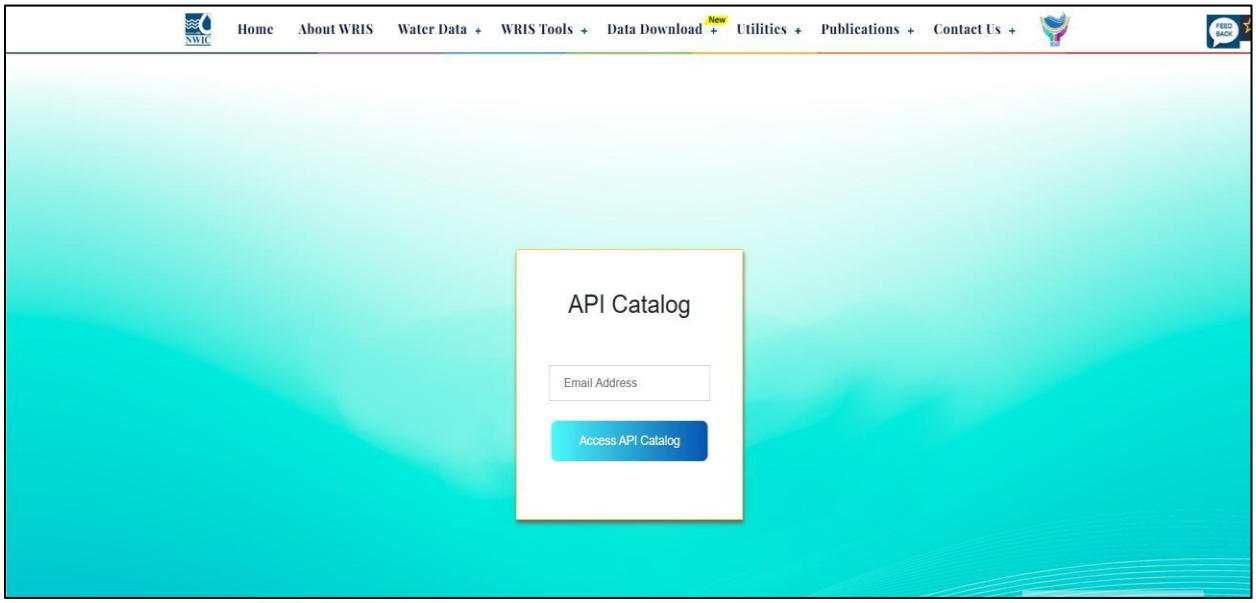

Disclaimer: *The water and allied data published by National Water Information Centre (NWIC) is sourced from various data producing agencies. Any further information and clarification regarding the data may be sought by the user from the respective data producing agency.*

Step 5. Enter your valid email address and click the 'Access API Catalog' button.

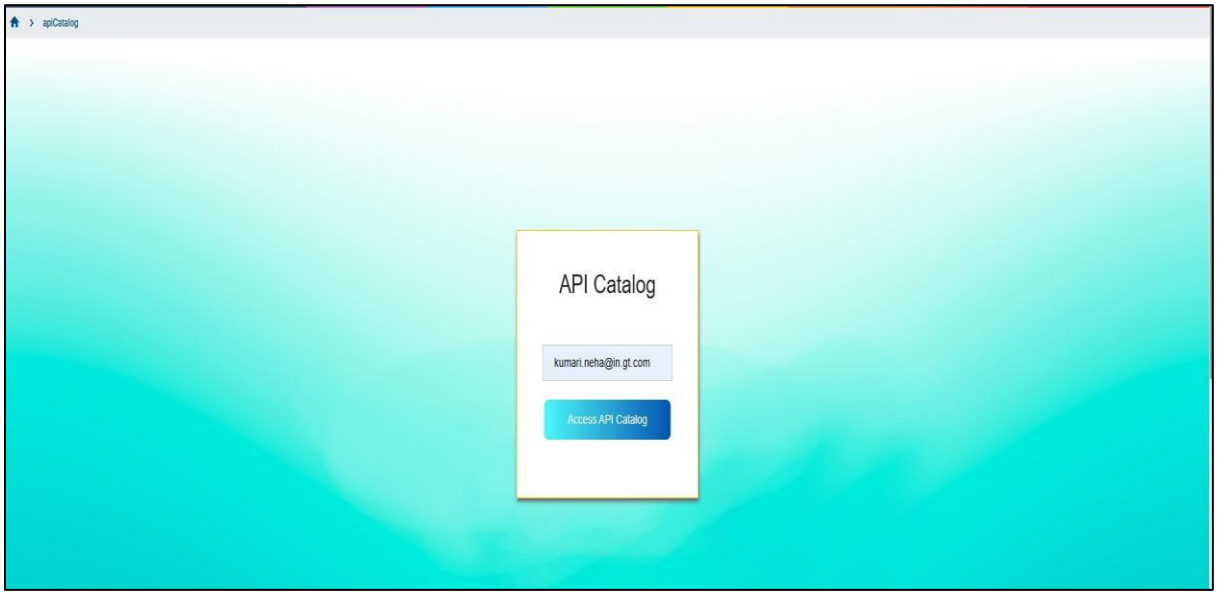

Disclaimer: *The water and allied data published by National Water Information Centre (NWIC) is sourced from various data producing agencies. Any further information and clarification regarding the data may be sought by the user from the respective data producing agency.*

Step 6. After successfully clicking the 'Access API Catalog' button, the user is redirected to the **'India-WRIS API Catalog'** page.

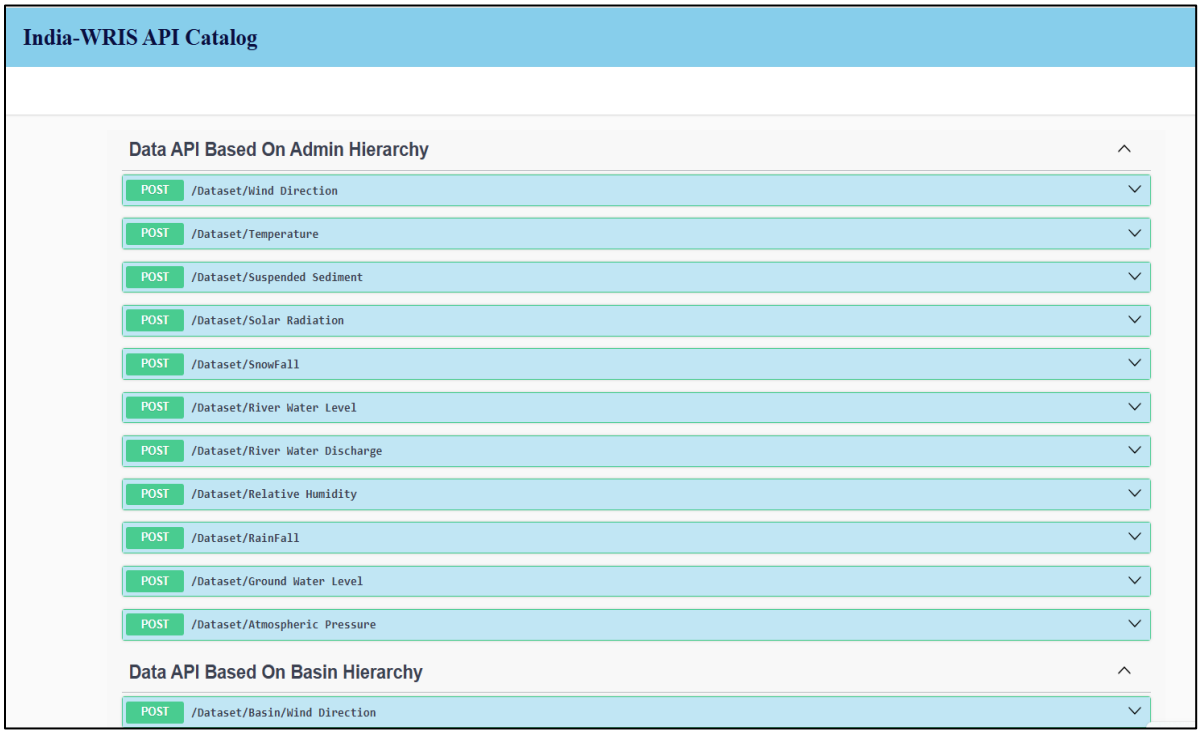

Disclaimer: *The water and allied data published by National Water Information Centre (NWIC) is sourced from various data producing agencies. Any further information and clarification regarding the data may be sought by the user from the respective data producing agency.*

Step 7. Users can now view the administrative and basin hierarchy structure along with the list of available datasets.

Data API Based On Admin Hierarchy

POST	/Dataset/Wind Direction
POST	/Dataset/Temperature
POST	/Dataset/Suspended Sediment
POST	/Dataset/Solar Radiation
POST	/Dataset/SnowFall
POST	/Dataset/River Water Level
POST	/Dataset/River Water Discharge
POST	/Dataset/Relative Humidity
POST	/Dataset/RainFall
POST	/Dataset/Ground Water Level
POST	/Dataset/Atmospheric Pressure

Data API Based On Basin Hierarchy

POST	/Dataset/Basin/Wind Direction
POST	/Dataset/Basin/Temperature

Disclaimer: *The water and allied data published by National Water Information Centre (NWIC) is sourced from various data producing agencies. Any further information and clarification regarding the data may be sought by the user from the respective data producing agency.*

Data API Based On Admin Hierarchy

Step 8. Click on the desired dataset (e.g., Wind Direction, Temperature).

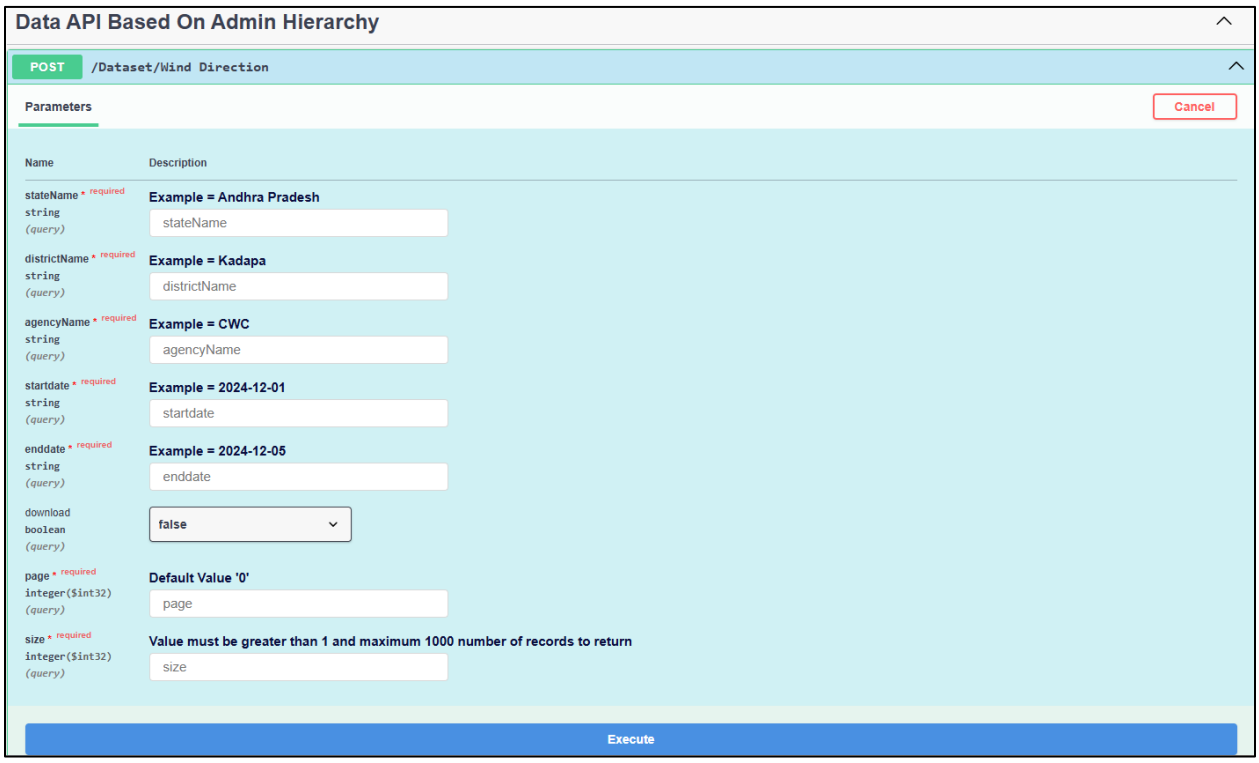

Disclaimer: *The water and allied data published by National Water Information Centre (NWIC) is sourced from various data producing agencies. Any further information and clarification regarding the data may be sought by the user from the respective data producing agency.*

Step 9. Enter Required Parameters

- stateName: Enter the name of the state (e.g., Andhra Pradesh).
- districtName: Enter the district name (e.g., Kadapa).
- agencyName: Enter the agency responsible for the data (e.g., CWC).
- startdate: Enter the start date in YYYY-MM-DD format (e.g., 2024-12-01).
- enddate: Enter the end date in YYYY-MM-DD format (e.g., 2024-12-05).

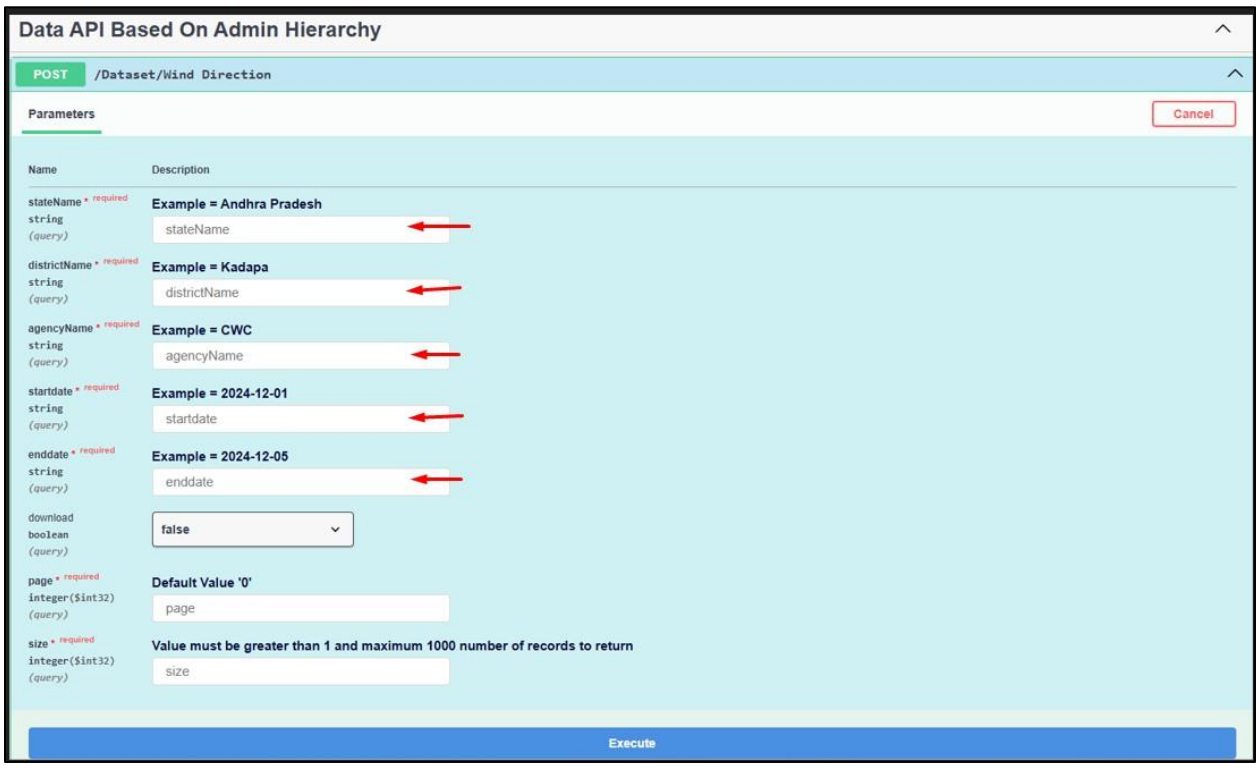

Disclaimer: *The water and allied data published by National Water Information Centre (NWIC) is sourced from various data producing agencies. Any further information and clarification regarding the data may be sought by the user from the respective data producing agency.*

Step 10. Select 'download' option whether you want to download the data (true or false).

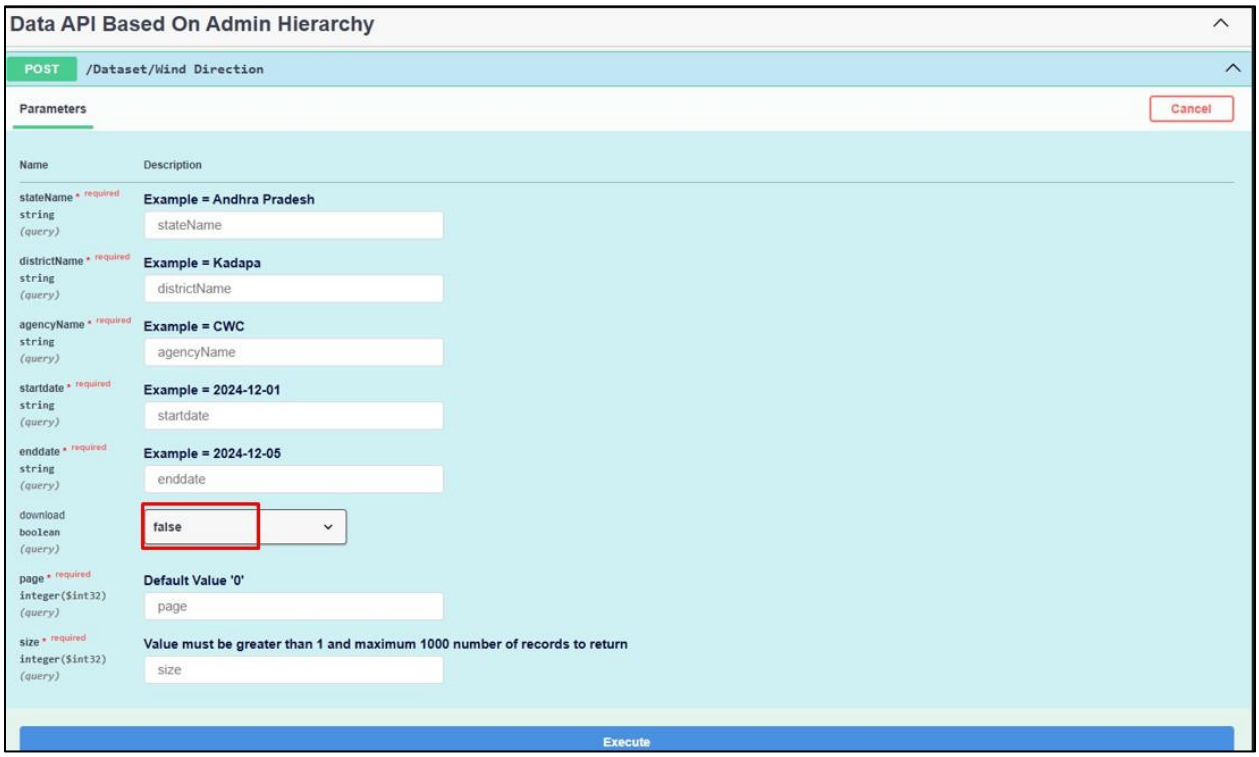

Disclaimer: *The water and allied data published by National Water Information Centre (NWIC) is sourced from various data producing agencies. Any further information and clarification regarding the data may be sought by the user from the respective data producing agency.*

Step 11. Enter the page number (default value: 0).

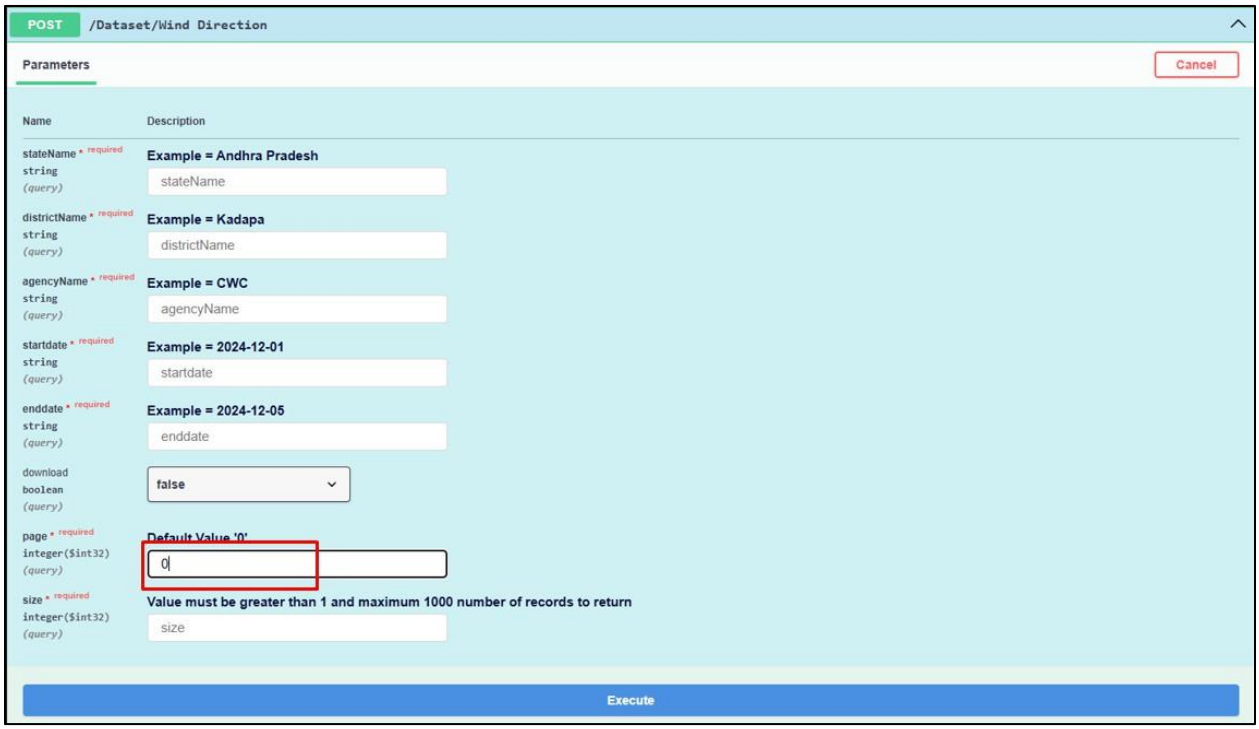

Disclaimer: *The water and allied data published by National Water Information Centre (NWIC) is sourced from various data producing agencies. Any further information and clarification regarding the data may be sought by the user from the respective data producing agency.*

Step 12. Enter the number of records to return.

Note: *Systems exceeding 1000 (e.g., 1001 or more) should not be accepted, and an error message should be displayed.*

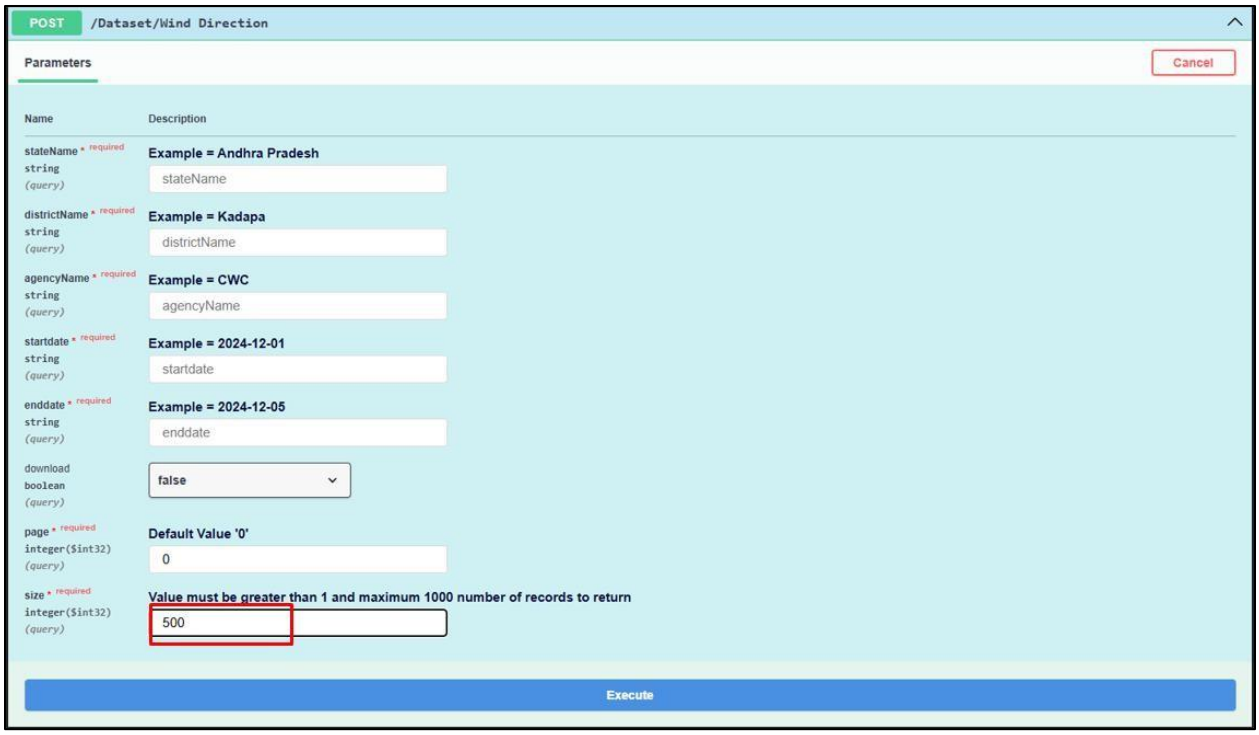

Disclaimer: *The water and allied data published by National Water Information Centre (NWIC) is sourced from various data producing agencies. Any further information and clarification regarding the data may be sought by the user from the respective data producing agency.*

Step 13. Click on the 'Execute' button to send the request.

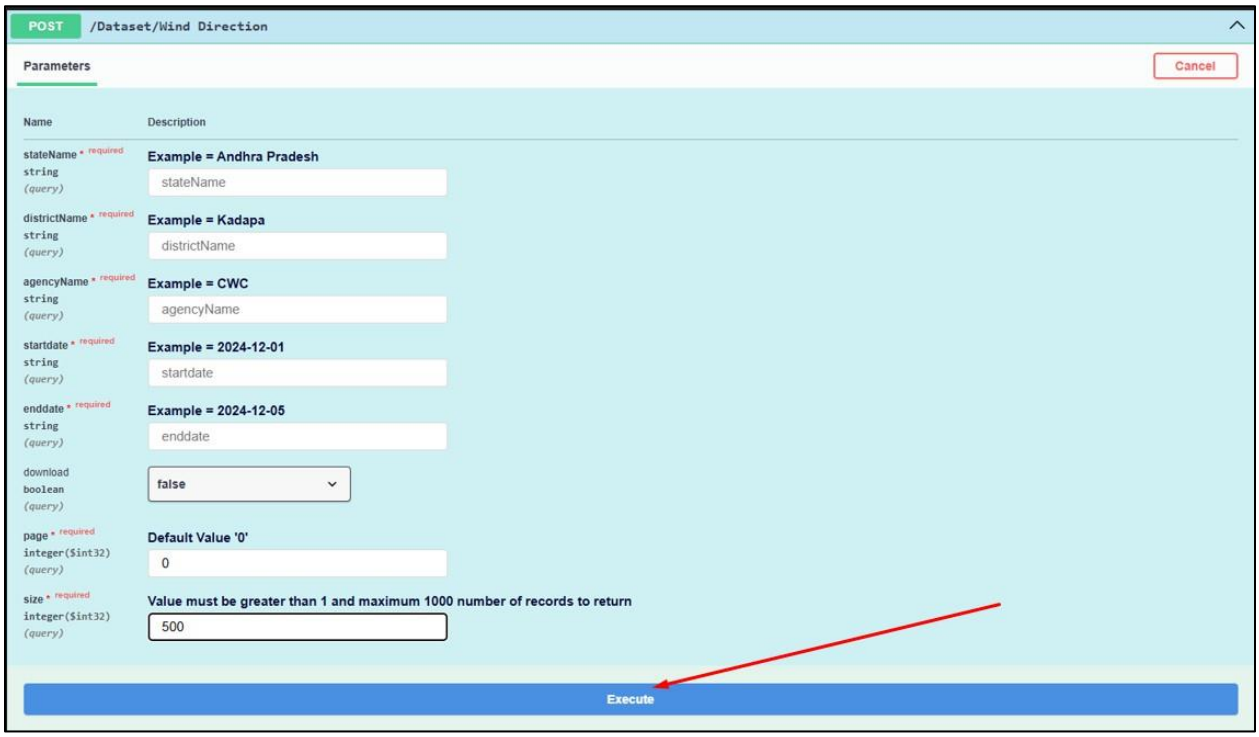

Disclaimer: *The water and allied data published by National Water Information Centre (NWIC) is sourced from various data producing agencies. Any further information and clarification regarding the data may be sought by the user from the respective data producing agency.*

Step 14. After execution, the user can view or download the data by choosing a dataset in JSON or XML format in the response body and setting the download option to 'false or true'.

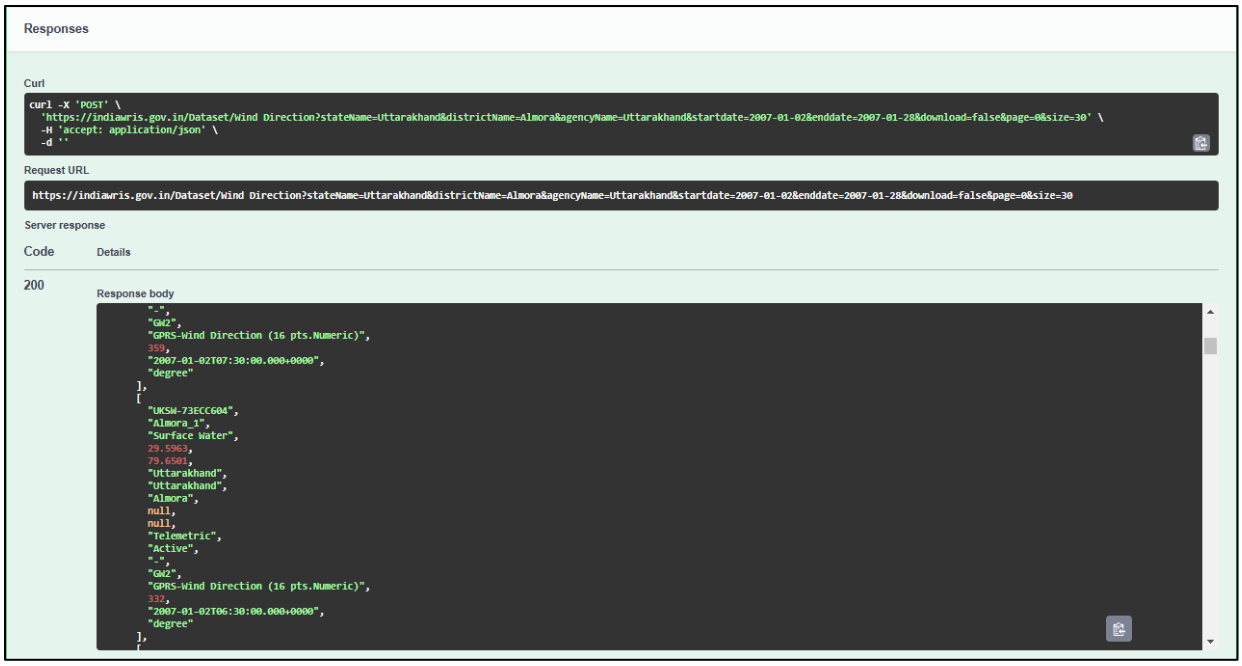

Responses

Curl

```
curl -X 'POST' \
  'https://indiawris.gov.in/Dataset/Wind Direction?stateName=Uttarakhand&districtName=Almora&agencyName=Uttarakhand&startdate=2007-01-02&enddate=2007-01-28&download=false&page=0&size=30' \
  -H 'accept: application/json' \
  -d ''
```

Request URL

```
https://indiawris.gov.in/Dataset/Wind Direction?stateName=Uttarakhand&districtName=Almora&agencyName=Uttarakhand&startdate=2007-01-02&enddate=2007-01-28&download=false&page=0&size=30
```

Server response

Code Details

200

Response body


```
        "-",
        "GW2",
        "GPRS-Wind Direction (16 pts.Numeric)",
        359,
        "2007-01-02T07:30:00.000+0000",
        "degree"
      ],
      [
        "UKSW-73ECC604",
        "Almora_1",
        "Surface Water",
        29.5963,
        79.6501,
        "Uttarakhand",
        "Uttarakhand",
        "Almora",
        null,
        null,
        "Telemetric",
        "Active",
        "-",
        "GW2",
        "GPRS-Wind Direction (16 pts.Numeric)",
        332,
        "2007-01-02T06:30:00.000+0000",
        "degree"
      ],
```


Disclaimer: *The water and allied data published by National Water Information Centre (NWIC) is sourced from various data producing agencies. Any further information and clarification regarding the data may be sought by the user from the respective data producing agency.*

Step 15. After execution, the user can download the data in CSV format from the response body by selecting the dataset and setting the download option to 'true'.

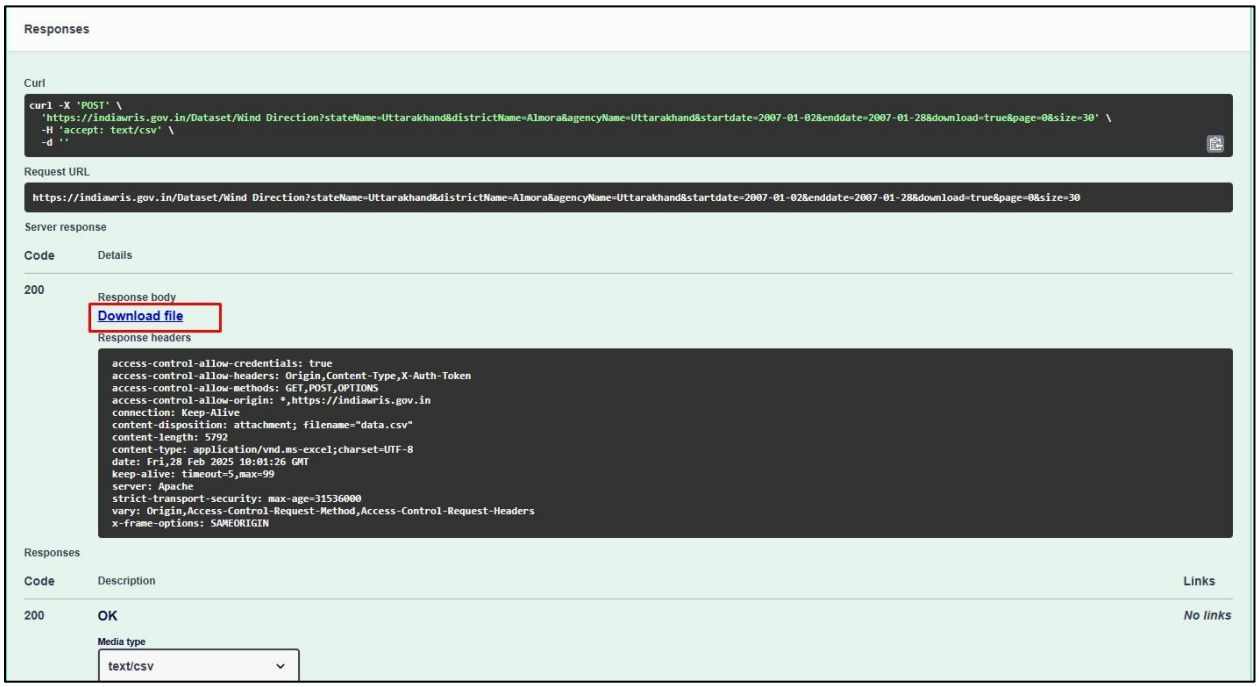

Disclaimer: *The water and allied data published by National Water Information Centre (NWIC) is sourced from various data producing agencies. Any further information and clarification regarding the data may be sought by the user from the respective data producing agency.*

Data API Based On Basin Hierarchy

Step 16. Click on the desired dataset (e.g., Snowfall, Rainfall).

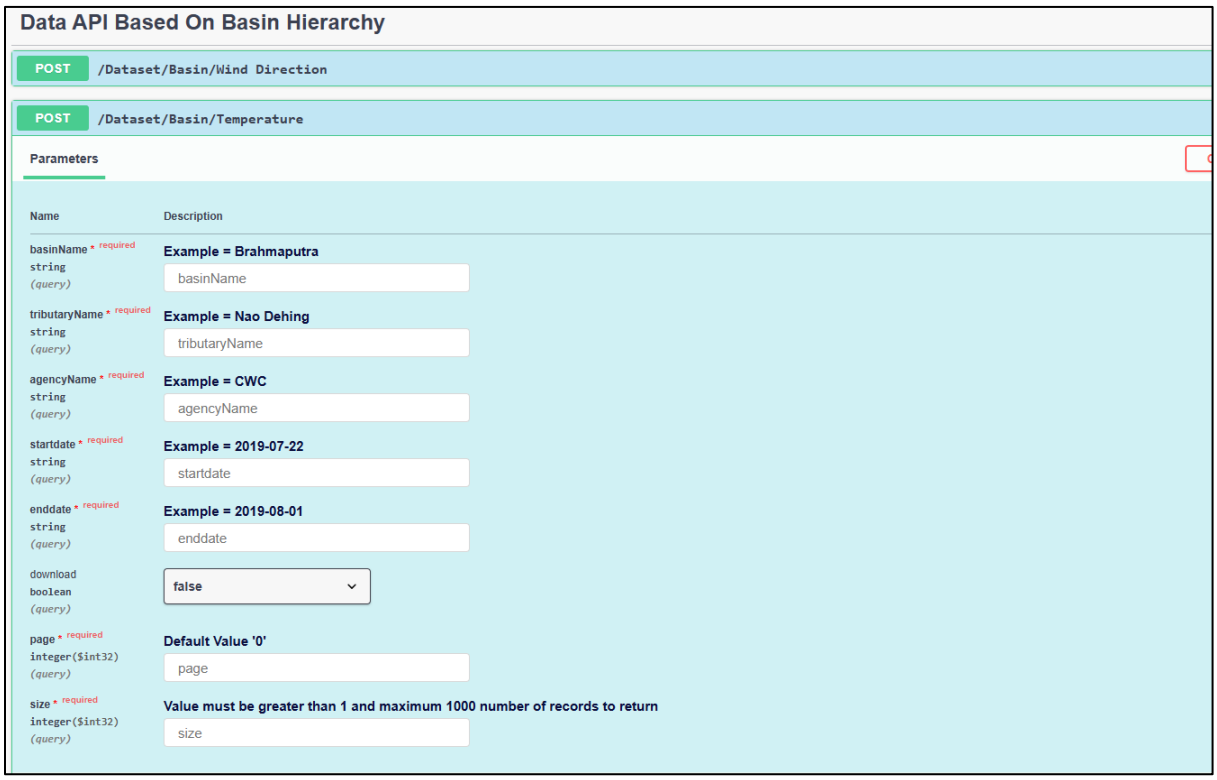

Disclaimer: *The water and allied data published by National Water Information Centre (NWIC) is sourced from various data producing agencies. Any further information and clarification regarding the data may be sought by the user from the respective data producing agency.*

Step 17. Enter Required Parameters

- basinName: Enter the name of the basin (e.g., Brahmaputra).
- tributaryName : Enter the tributary name (e.g., Nao Dehing).
- agencyName: Enter the agency responsible for the data (e.g., CWC).
- startdate: Enter the start date in YYYY-MM-DD format (e.g., 2019-07-22).
- enddate: Enter the end date in YYYY-MM-DD format (e.g., 2019-08-01).

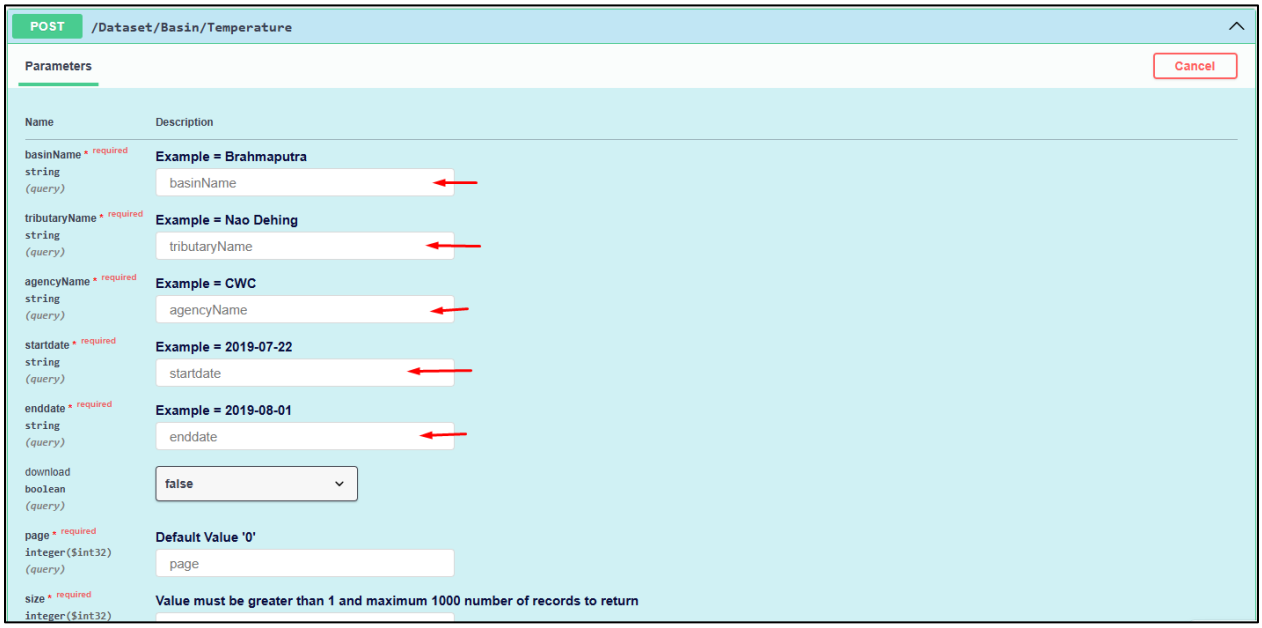

Disclaimer: *The water and allied data published by National Water Information Centre (NWIC) is sourced from various data producing agencies. Any further information and clarification regarding the data may be sought by the user from the respective data producing agency.*

Step 18. Select 'download' option whether you want to download the data (true or false).

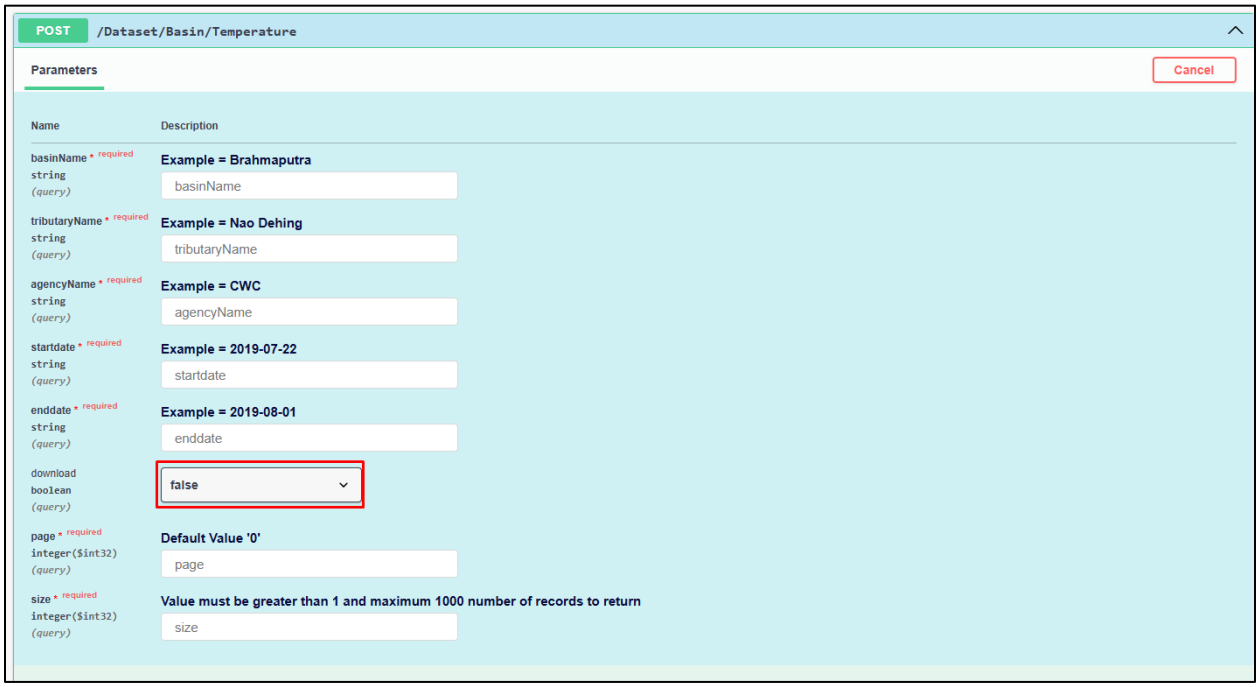

Disclaimer: *The water and allied data published by National Water Information Centre (NWIC) is sourced from various data producing agencies. Any further information and clarification regarding the data may be sought by the user from the respective data producing agency.*

Step 19. Enter the page number (default value: 0).

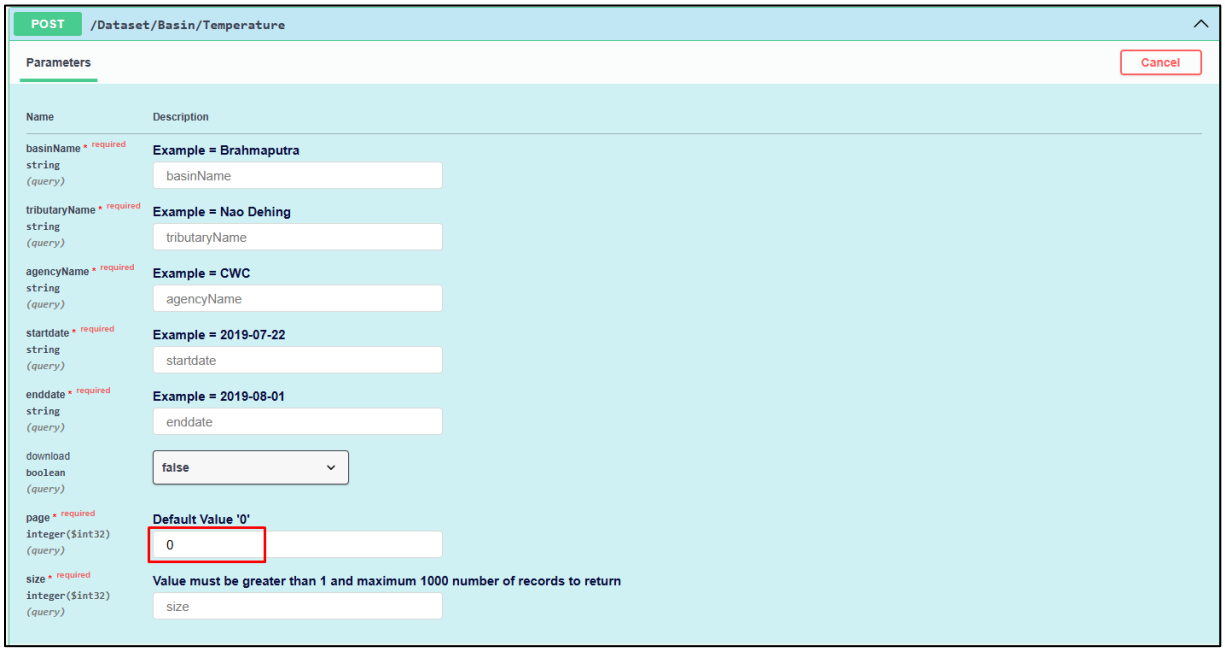

Disclaimer: *The water and allied data published by National Water Information Centre (NWIC) is sourced from various data producing agencies. Any further information and clarification regarding the data may be sought by the user from the respective data producing agency.*

Step 20. Enter the number of records to return.

Note: *Systems exceeding 1000 (e.g., 1001 or more) should not be accepted, and an error message should be displayed.*

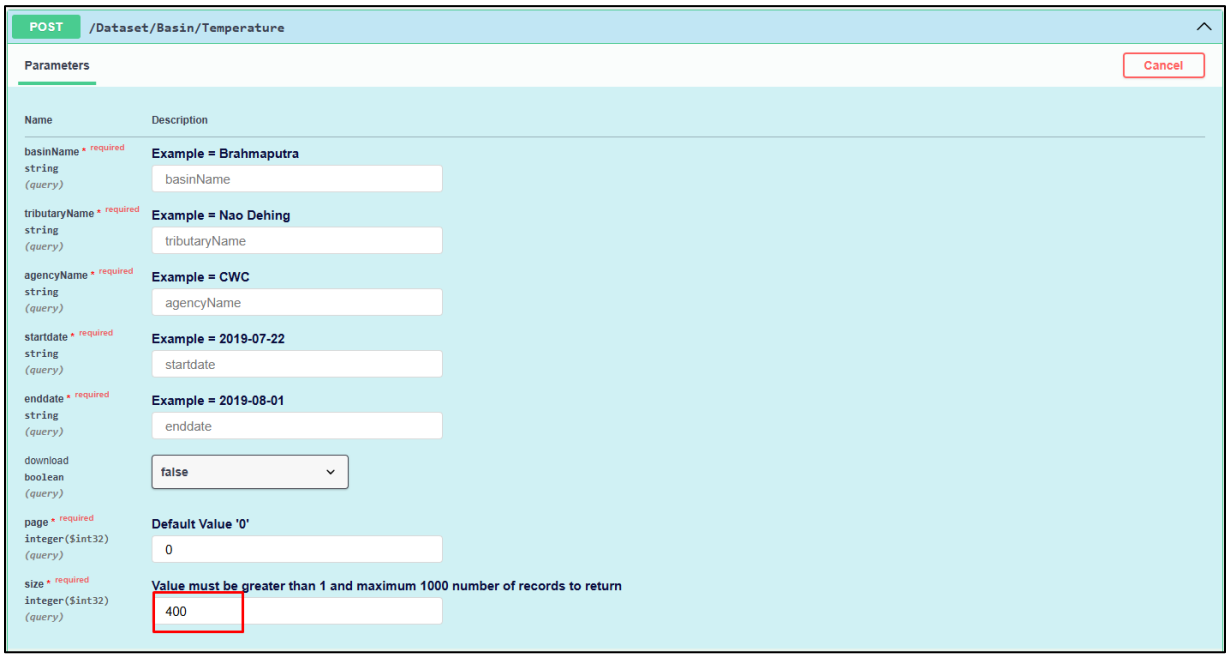

Disclaimer: *The water and allied data published by National Water Information Centre (NWIC) is sourced from various data producing agencies. Any further information and clarification regarding the data may be sought by the user from the respective data producing agency.*

Step 21. Click on the 'Execute' button to send the request.

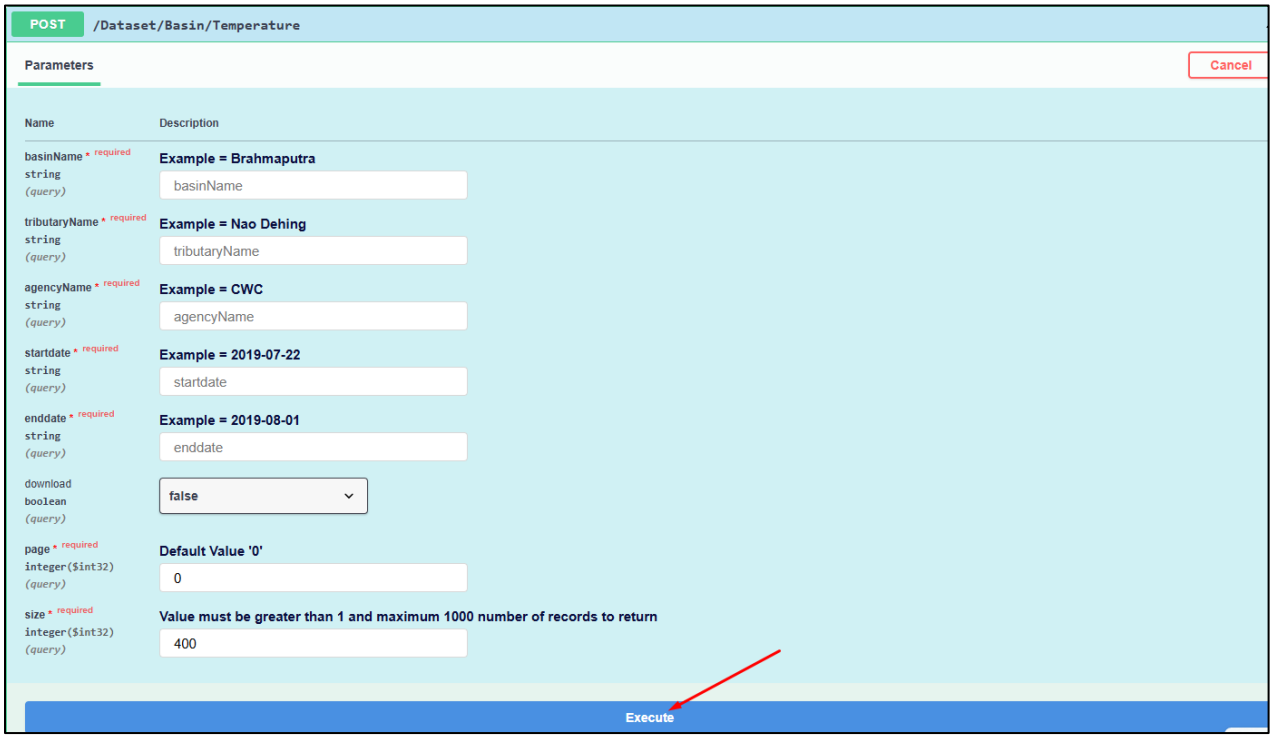

Disclaimer: *The water and allied data published by National Water Information Centre (NWIC) is sourced from various data producing agencies. Any further information and clarification regarding the data may be sought by the user from the respective data producing agency.*

Step 22. After execution, the user can view or download the data by choosing a dataset in JSON or XML format in the response body and setting the download option to 'false or true'.

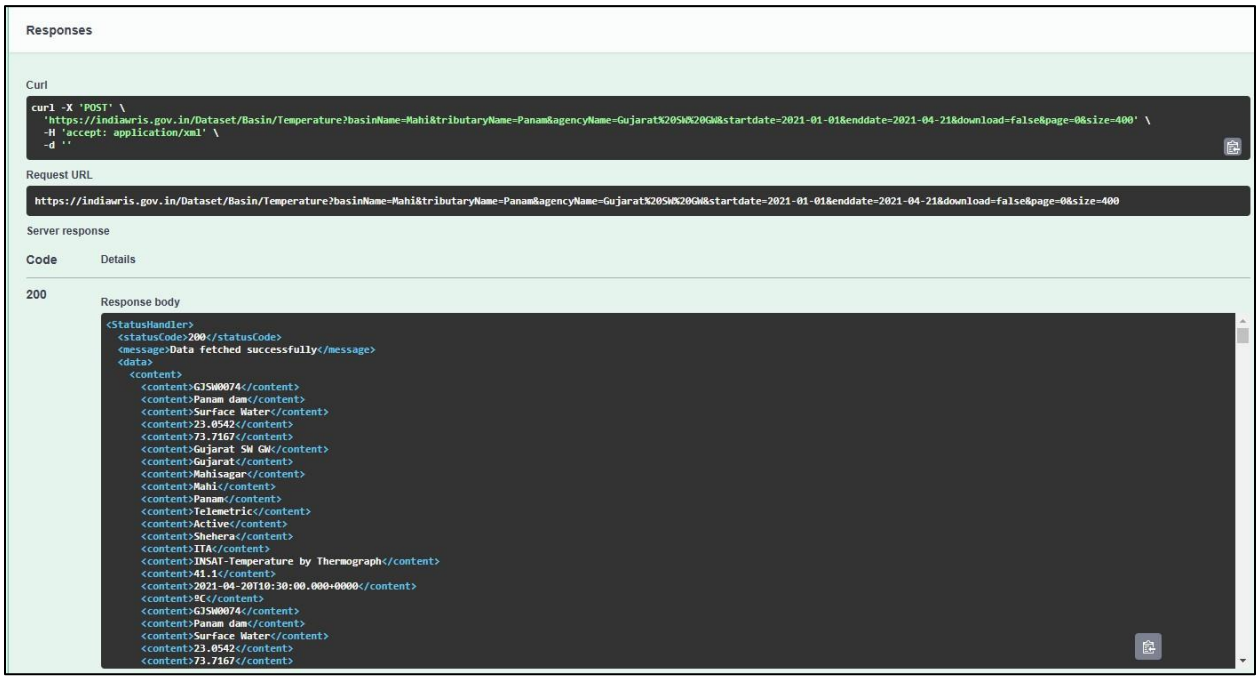

Responses

Curl

```
curl -X 'POST' \
  'https://indiawris.gov.in/Dataset/Basin/Temperature?basinName=Mahi&tributaryName=Panam&agencyName=Gujarat%20SW%20GW&startdate=2021-01-01&enddate=2021-04-21&download=false&page=0&size=400' \
  -H 'accept: application/xml' \
  -d ''
```

Request URL

https://indiawris.gov.in/Dataset/Basin/Temperature?basinName=Mahi&tributaryName=Panam&agencyName=Gujarat%20SW%20GW&startdate=2021-01-01&enddate=2021-04-21&download=false&page=0&size=400

Server response

Code	Details
200	Response body


```
<StatusHandler>
  <statusCode>200</statusCode>
  <message>Data fetched successfully</message>
  <data>
    <content>
      <content>GJSW0074</content>
      <content>Panam dam</content>
      <content>Surface Water</content>
      <content>23.0542</content>
      <content>73.7167</content>
      <content>Gujarat SW GW</content>
      <content>Gujarat</content>
      <content>Mahisagar</content>
      <content>Mahi</content>
      <content>Panam</content>
      <content>Telemetric</content>
      <content>Active</content>
      <content>Shehera</content>
      <content>ITA</content>
      <content>INSAT-Temperature by Thermograph</content>
      <content>41.1</content>
      <content>2021-04-20T10:30:00.000+0000</content>
      <content>°C</content>
      <content>GJSW0074</content>
      <content>Panam dam</content>
      <content>Surface Water</content>
      <content>23.0542</content>
      <content>73.7167</content>
```


Disclaimer: *The water and allied data published by National Water Information Centre (NWIC) is sourced from various data producing agencies. Any further information and clarification regarding the data may be sought by the user from the respective data producing agency.*

Step 23. After execution, the user can download the data in CSV format from the response body by selecting the dataset and setting the download option to 'true'.

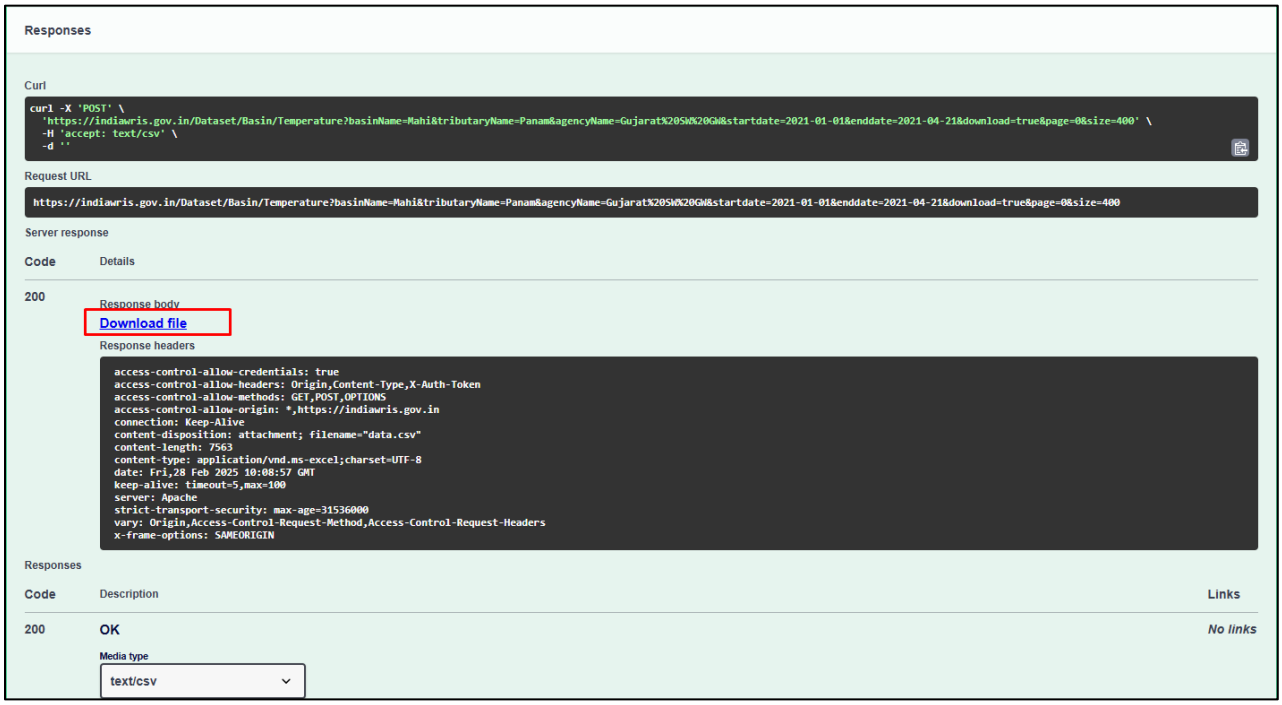

NOTE: *Same steps will be applied to the remaining datasets for both Admin and Basin, as mentioned above.*

Disclaimer: *The water and allied data published by National Water Information Centre (NWIC) is sourced from various data producing agencies. Any further information and clarification regarding the data may be sought by the user from the respective data producing agency.*